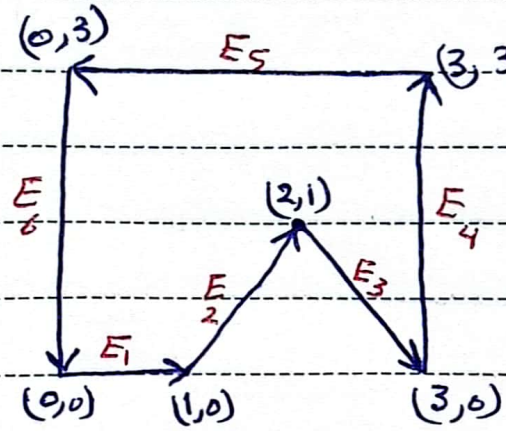
Sec 8 : Filling

* to find the vector between 2 points

$E_1 \rightarrow (X_2 - X_1, y_2 - y_1, z_2 - z_1)$

Ex 1) find the vectors & check if it's ConCave polygon



$E_1 = (1-0, 0-0, 0) = (1,0,0)$

$= (1, 0, 0)$

$E_1 \times E_2 = (0, 0, 1*1 - 0*1)$

$= (0, 0, 1)$

$E_2 = (1, 1, 0)$

$E_2 \times E_3 = (0, 0, 1*-1 - 1*1)$

$= (0, 0, -2)$ ∴ ConCave

$E_3 = (1, -1, 0)$

$E_3 \times E_4 = (0, 0, 1*3 - 0*-1)$

$= (0, 0, 3)$

$E_4 = (0, 3, 0)$

$E_4 \times E_5 = (0, 0, 0 - (-9))$

$(0, 0, 9)$

$E_5 = (-3, 0, 0)$

$E_5 \times E_6 = (0, 0, 9)$

$E_6 = (0, -3, 0)$

$E_6 \times E_1 = (0, 0, 0*0 - (-3*1))$

$= (0, 0, 3)$

Note: * the Cross product bet 2 vectors (X,y) represent (Z) vector

* to check if ConCave: $E_i \times E_d < 0$ for any vector in the polygon

DAWENHA designs

Filling algorithms :

1 Boundary fill : (edge fill)

① Start at a point inside the polygon boundary

② Check on the neighboring pixel if → not colored & have not boundry color
→ then color it

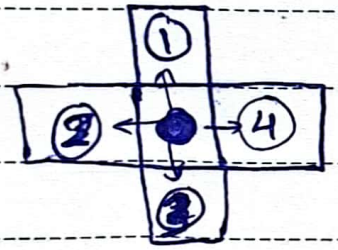
* only work if filled & boundry color are different

③ Store its neighboring pixels 4N or 8N in the stack

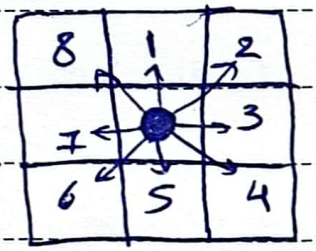
④ select next pixel from stack & repeat ②



4N eighbors



8N



2 Flood fill (seed fill)

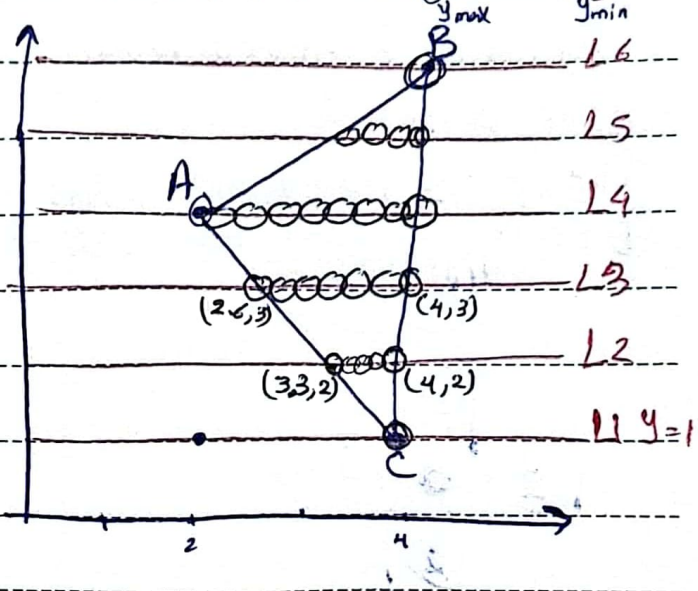
if you want to recolor the area it replace the interior color with fill color & start from an interior point (seed point)

DAWENHA designs

CamScanner

3] Scan line polygon fill :-

Ex 1) Using scanline polygon fill algorithm to determine the content of the active edge table to fill the Polygon with vertices A(2,4) B(4,6) C(4,1)
for y = 1 to 6



① ارتب الـ edges من اقل y الى y كده الترتيب في الشكل ازاي:

∴ C(4,1) → A(2,4) → B(4,6)

② عند كل y هتطلع الـ Vertex اللي بتقاطع معاه

③ هتطلع الـ y من الـ min لـ max

y	vertex	
6 (max)	B	→ null
5	∅	→ null
4	A	→ AB [6 | 2 | 1]
3	∅	→ null
2	∅	→ null
1 (min)	C	→ CA [4 | 4 | -2/3] → CB [6 | 4 | 0]

④ هتطلع من اخر واحد هتحسب عند كل Vertex واشوف مشوط بأنهي edge

linked list الـ ... بحاكيها والكتكوت بكتبه

(GET) global edge table الـ ... ⑤
(array of linked lists)

* CA → (x_1, y_1) = (4,1) to (x_2, y_2) = (2,4)

y_{max} = 4	$X_{y_{min}}$ = 4	$\frac{1}{m}$ = -2/3

$y_2 > y_1$; X_1 for y_1 is min

$\frac{\Delta x}{\Delta y} = \frac{2-4}{4-1} = \frac{-2}{3}$

* CB → (4,1) to (4,6) (6 = max)

6	4	0

$\frac{1}{m} = \frac{4-4}{6-1} = \frac{0}{5} = 0$

* AB → (2,4) to (4,6)

6	2	1

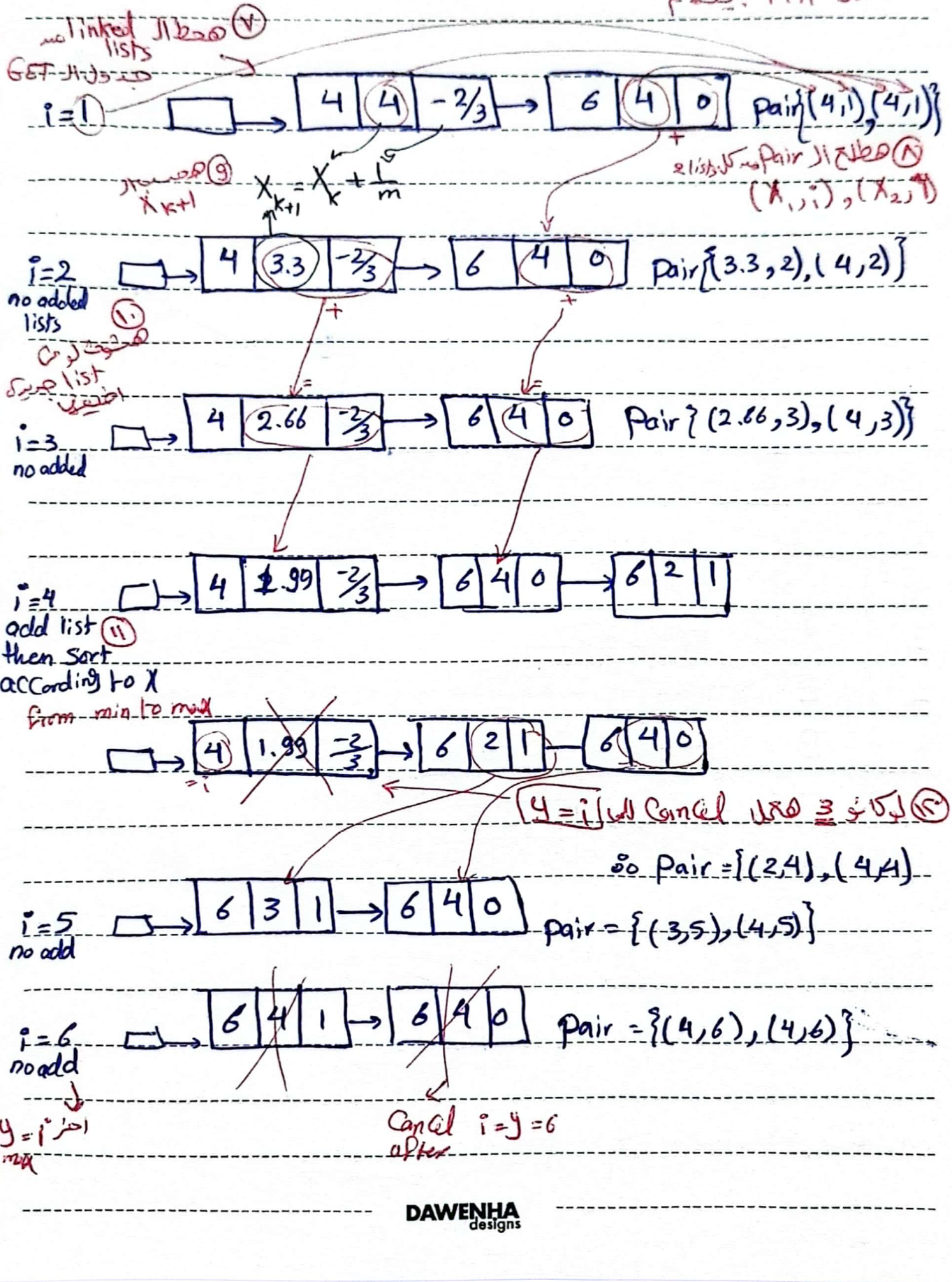
$\frac{1}{m} = \frac{4-2}{6-4} = \frac{2}{2} = 1$

DAWENHA designs

③ صف الـ active edge table بـ i من كل y بقيمة الـ point الى pair

⑦ صف الـ linked lists من GET الى

fill بعدين



DAWENHA designs

CamScanner

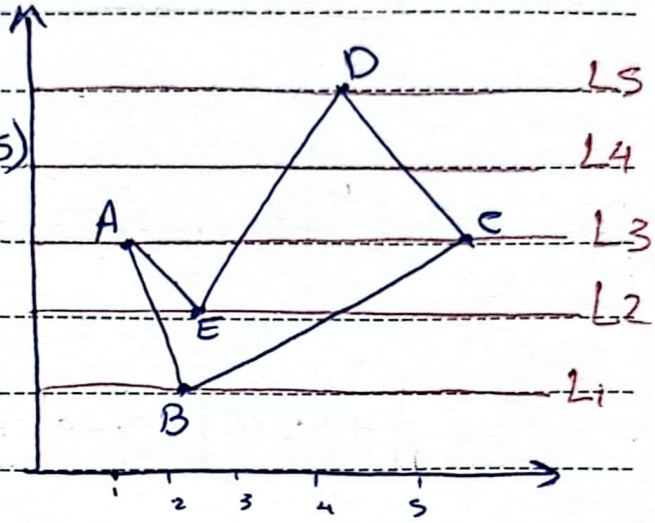
Ex. 2 Using Scanline fill to determine the content of the active edge table to fill the polygon with vertices A(1,3), B(2,1), C(5,3), D(4,5) E(2,2)

y_{min} y_{max}

y from 1 to 5

① Sort vertex:

B(2,1), E(2,2), A(1,3), C(5,3), D(4,5)



② Creat GET

y	Vertex	
5	D	→ null
4	O	→ null
3	A, C	CD → 5 | 5 | -1/2
2	E	EA → 3 | 2 | -1 ; ED → 5 | 2 | 2/3
1	B	BA → 3 | 2 | -1/2 ; BC → 3 | 2 | 3/2

~~for BA~~ → (2,1) (1,3) 3 | 2 | -1/2 $\frac{1-2}{3-1} = \frac{-1}{2}$

for BC → (2,1) (5,3) 3 | 2 | 3/2 $\frac{5-2}{3-1} = \frac{3}{2}$

for EA → (2,2) (1,3) 3 | 2 | -1 $\frac{1-2}{3-2} = -1$

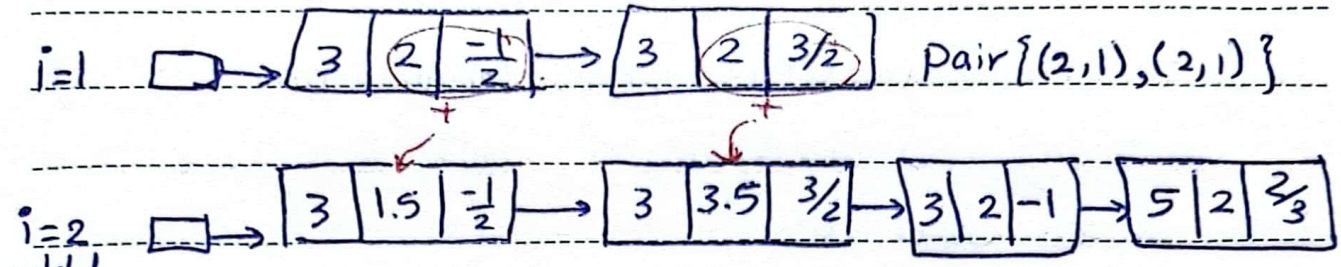
for ED → (2,2) (4,5) 5 | 2 | 2/3 $\frac{4-2}{5-2} = \frac{2}{3}$

for CD → (5,3) (4,5) 5 | 5 | -1/2 $\frac{4-5}{5-3} = \frac{-1}{2}$

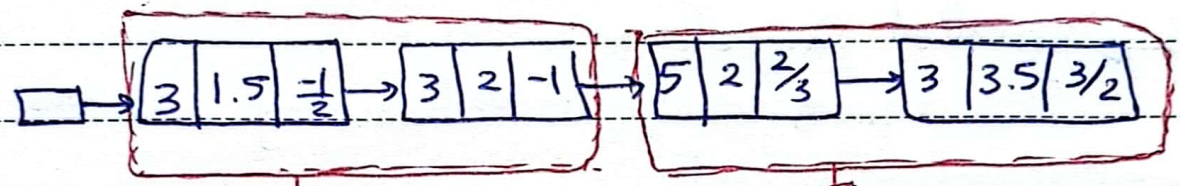
DAWENHA designs

CamScanner


③ Create active edge table :-



Sort according to X from min to max



so pairs {(1.5,2)(2,2)} pair = {(2,2)(3.5,2)}



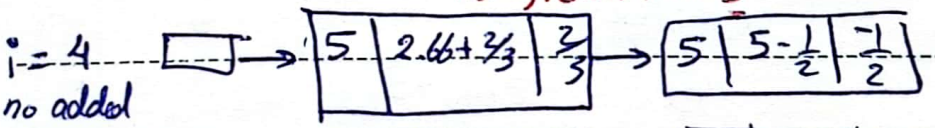
Sorted already then take each pair of lists

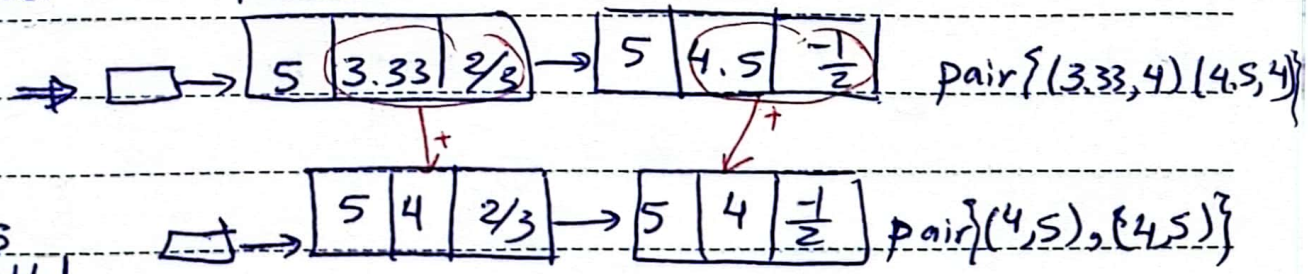
pair = {(-1,3)(-1,3)}

Cancel y=i then get pair

pair = {(2.66,3)(5,3)}

then cancel when i=4 because its greater than y





last i=y=5 max

Sec 9 : projection

refer to the mathimatical process (matrix multiplication) of converting 3D Cordinates of points in a scene into screen Coordinates

1 → parallel projection
(by drawing straight lines from every point on the object)

2 → prospective projection
(represent objects as perceived by the human eyes)

* Prespective projection matrix

$$\begin{bmatrix} x' \\ y' \\ z' \\ w \end{bmatrix} = \begin{bmatrix} \cot\left(\frac{fov}{2}\right) * \frac{1}{a} & 0 & 0 & 0 \\ 0 & \cot\left(\frac{fov}{2}\right) & 0 & 0 \\ 0 & 0 & \frac{z_{near} + z_{far}}{z_{near} - z_{far}} & \frac{-2 z_{near} z_{far}}{z_{near} - z_{far}} \\ 0 & 0 & 0 & 0 \end{bmatrix} * \begin{bmatrix} x \\ y \\ z \\ w \end{bmatrix}$$

- $\frac{fov}{2}$: field of view angle
- a : aspect ratio
- $\cot\left(\frac{fov}{2}\right)$: d : field of view scaling factor
- $\frac{z_{near} + z_{far}}{z_{near} - z_{far}}$: S_z scaling factor
- $\frac{-2 z_{near} z_{far}}{z_{near} - z_{far}}$: t_z transfer factor

DAWENHA designs

CamScanner

Ex.1 project the point (2,3,5) onto a screen using a camera with a fov of 90°, aspect ratio of 16:9 & near/far planes at 1 and 100 units

(z_{near}, z_{far})

$$a = \frac{16}{9} = 1.77, \quad d = \cot\left(\frac{90}{2} * \frac{\pi}{180}\right) = 1, \quad S = \frac{1+100}{1-100} = -1.02$$

(3.14)

$$t = \frac{-2 * 1 * 100}{1 - 100} = 2.02$$

$$\begin{bmatrix} x' \\ y' \\ z' \\ w \end{bmatrix} = \begin{bmatrix} d/a & 0 & 0 & 0 \\ 0 & d & 0 & 0 \\ 0 & 0 & S & -t \\ 0 & 0 & 1 & 0 \end{bmatrix} \begin{bmatrix} 2 \\ 3 \\ 5 \\ 1 \end{bmatrix}$$

$$x' = \frac{2d}{a}$$

$$y' = 3d$$

$$z' = 5S - t$$

* prefer perspective divide :

$$x' = \frac{x'}{z} = \frac{}{5} \qquad y' = \frac{y'}{5} \qquad z' = \frac{z'}{5}$$

DAWENHA designs

CamScanner